Analyzing Climate Trends and Predictive Modeling in Major Indian Cities - A Big Data Approach

2024 8th International Conference on Computational System and Information Technology for Sustainable Solutions (CSITSS) | 979-8-3315-0546-2/24/$31.00 ©2024 IEEE | DOI: 10.1109/CSITSS64042.2024.10816890

Dr. Pratiba .D
Department of Computer Science and Engineering, RV College of Engineering (affiliated with VTU)
pratibad@rvce.edu.in

Dr Ramakanth Kumar P
Department of Computer Science and Engineering, RV College of Engineering (affiliated with VTU)
ramakanthkp@rvce.edu.in

Abhijit Madhusudan
Department of Computer Science and Engineering, RV College of Engineering (affiliated with VTU)
abhijitm.cs21@rvce.edu.in

Akshaja V Maiya
Department of Computer Science and Engineering, RV College of Engineering (affiliated with VTU)
akshajavmaiya.cs21@rvce.edu.in

Dwarakacherla Navya
Department of Computer Science and Engineering, RV College of Engineering (affiliated with VTU)
dnavya.cs21@rvce.edu.in

K V Karthik
Department of Computer Science and Engineering, RV College of Engineering (affiliated with VTU)
kvvkarthik.cs21@rvce.edu.in

Abstract — Climate change poses significant challenges worldwide, with urban areas particularly susceptible to its impacts. Understanding local climate trends is essential for informed decision-making and proactive measures towards climate resilience. This paper presents a pioneering study that investigates climate dynamics in major cities of India using advanced big data technologies, namely Hadoop and Spark. Spanning from 1995 to 2020, the dataset comprises temperature records of key cities, enabling a comprehensive analysis of long-term climate trends. Leveraging MapReduce for data preprocessing and Spark for analysis and visualization, the research explores temperature variations across regions and cities, with a focus on seasonal patterns and anomalies. Specifically, the study delves into the climate trends of Delhi, offering insights into its seasonal fluctuations. Furthermore, predictive modeling techniques such as Autoregressive Moving Average (ARMA) and Autoregressive (AR) models are employed to forecast future temperature trends, aiding in proactive climate adaptation strategies. The findings contribute to a deeper understanding of climate dynamics in urban India and provide valuable insights for policymakers, urban planners, and environmentalists in devising effective climate resilience and sustainable development strategies.

Keywords — Big data, Time series analysis, Autoregressive model, Moving Average model, MapReduce, PySpark, Weather forecasting, Data cleaning, Hadoop, Scalability.

I. Introduction

In the realm of big data analytics, the utilization of sophisticated models for weather forecasting holds significant promise. Time series analysis, a cornerstone in this domain, offers a range of techniques for extracting insights from temporal data. Among these, Autoregressive (AR) and Moving Average (MA) models stand out for their ability to capture underlying patterns and trends in sequential data. Weather forecasting is a critical aspect of numerous sectors, including agriculture, transportation, and disaster management. Traditional methods often rely on statistical models such as Autoregressive (AR) and Moving Average (MA) to predict future weather patterns based on historical data. However, with the advent of big data technologies, there is an opportunity to enhance the accuracy and efficiency of these forecasts.

This paper introduces a basic big data project that explores the comparative analysis of AR and MA time series models for weather forecasting. Leveraging the power of Hadoop, Spark, and MapReduce, the project demonstrates the advantages of using these technologies in handling large volumes of weather data efficiently. Large-scale dataset processing and storage over clusters of commodity hardware are made possible by Hadoop's distributed file system and processing framework. Hadoop's ability to distribute computation and data allows for fault-tolerant and scalable processing, which makes it appropriate for managing the enormous volumes of meteorological data produced worldwide.

Spark, a fast and general-purpose cluster computing system, further enhances the capabilities of Hadoop by offering in-memory processing and a more expressive programming model. With its ability to perform iterative computations efficiently, Spark is well-suited for complex analytics tasks such as time series analysis in weather forecasting.

MapReduce, the programming model underlying Hadoop, simplifies the parallel processing of data by breaking tasks into smaller, independent units that can be executed in parallel across multiple nodes. This distributed processing paradigm enables efficient data cleaning and preparation, essential steps in the weather forecasting pipeline. By leveraging Hadoop, Spark, and MapReduce, this project aims to showcase the importance and advantages of big data technologies in weather forecasting. Through comparative analysis, the effectiveness of AR and MA models can be evaluated, paving the way for more accurate and timely weather predictions with broader implications for various industries and society as a whole.

Computational Requirements

The computational requirements for this project necessitate a robust infrastructure capable of handling large-scale data processing tasks efficiently. A Hadoop cluster, comprising multiple nodes equipped with adequate processing and storage capabilities, is essential to accommodate the voluminous weather datasets. Additionally, Spark's distributed computing framework demands sufficient

Authorized licensed use limited to: Mukesh Patel School of Technology & Engineering. Downloaded on February 27,2026 at 16:59:49 UTC from IEEE Xplore. Restrictions apply.

memory and processing power to execute complex analytics tasks effectively. A minimum configuration of at least 16GB RAM and multiple CPU cores per node is recommended to support the concurrent processing of data across the cluster. Furthermore, since MapReduce forms the underlying programming model, sufficient disk space and network bandwidth are essential to facilitate seamless data shuffling and task execution. It is imperative to allocate resources judiciously, considering the size of the dataset and the complexity of the analytical algorithms employed. Additionally, efficient resource management techniques such as dynamic resource allocation and fault tolerance mechanisms should be implemented to ensure optimal utilization of computational resources and resilience against hardware failures.

A. Use case scenarios

The proposed methodology involves conducting a comparative analysis of Autoregressive (AR) and Moving Average (MA) time series models for weather forecasting using MapReduce and PySpark. A wide range of industry-specific use case scenarios are provided by this project. In agriculture, accurate weather forecasts can optimize irrigation scheduling and crop management practices, ultimately enhancing crop yields and resource efficiency. In transportation, real-time weather predictions enable proactive decision-making to reduce the impact of adverse weather conditions on road and air traffic, ensuring passenger safety and minimizing disruptions. Furthermore, in renewable energy, precise weather forecasts facilitate optimal utilization of solar and wind resources, enabling efficient planning and grid integration of renewable energy sources. Additionally, in disaster management, timely and accurate weather predictions can aid in early warning systems for natural disasters such as hurricanes, floods, and wildfires, allowing authorities to evacuate vulnerable areas and deploy resources effectively. Overall, the project's methodology offers valuable insights into improving decision-making processes across diverse domains by leveraging advanced big data analytics techniques for weather forecasting.

II. LITERATURE SURVEY

The utilization of big data technologies in weather data analysis and prediction has garnered significant attention due to the increasing volume of data generated by meteorological sensors and IoT devices. The study summarizes the usage of Hadoop and Spark frameworks to process and analyze weather data, highlighting their methodologies, findings, and implications.

Hadoop, specifically the MapReduce algorithm, has been employed to analyze historical weather data efficiently. Experiments were conducted using a Hadoop cluster on three computers running Linux Ubuntu 14.04 and Hadoop-2.7.1. The dataset included parameters such as station number, station name, date, country, precipitation, temperature, and wind. MapReduce was applied to calculate averages, maximum, and minimum values for various weather parameters across different stations. This approach significantly enhances data processing speed, making it appropriate for managing large datasets from meteorological sensors [1].

Hussein et al. [2] examine the application of Hadoop MapReduce and Spark for processing daily precipitation data, focusing on radar images. The dataset comprised 24-hour radar images from January 2012 to February 2019. Hadoop MapReduce employed a streaming API to implement custom Map and Reduce functions, while Spark, implemented via PySpark, performed streaming analysis to find significant rainfall events. The findings suggest that both frameworks effectively analyze precipitation patterns, demonstrating their potential in meteorological data analysis.

Web scraping techniques have been used for meteorological big data analysis. A framework developed in Java utilizes Selenium for data extraction from the meteoma.net website, with data processing facilitated by Talend and visualization achieved through Qlik Sense. This methodology exemplifies the seamless integration of various technologies to highlight the challenges of handling large volumes of meteorological data. Legal considerations associated with web scraping are also discussed, emphasizing adherence to copyright laws and the mitigation of unauthorized data seizure concerns [3].

Apache Spark has been suggested as a solution to the problems associated with storing and analyzing vast volumes of weather data efficiently. Utilizing Spark and the Scala programming language, key statistical metrics such as minimum, maximum, and average values of temperature and pressure were computed. Data from the National Climatic Data Center (NCDC) spanning 1996 to 2018 formed the basis of the analysis. By leveraging Spark's in-memory computing capabilities, real-time data processing was achieved, enhancing the efficiency of weather data analytics. The study concludes that Spark demonstrates a significant performance improvement over MapReduce in weather data analytics tasks [4].

Wei et al. [5] developed rainfall prediction models for typhoons in Northern Taiwan using the Hadoop Spark framework combined with techniques of machine learning like deep neural networks (DNN) and multiple linear regression (MLR). Meteorological data from 1961 to 2017 from four surface observation stations were utilized. The study highlights the superior computing performance of the Hadoop Spark framework compared to standalone systems. Results indicate varying prediction performances between the DNN and MLR models across different stations, suggesting the need for additional research into feature-selection methods to enhance model accuracy.

Other studies have demonstrated the advantages of Hadoop's

Authorized licensed use limited to: Mukesh Patel School of Technology & Engineering. Downloaded on February 27,2026 at 16:59:49 UTC from IEEE Xplore. Restrictions apply.

distributed computing capabilities in handling vast datasets efficiently. For example, the implementation of Hadoop MapReduce for weather data analysis has shown significant improvements in processing speed and accuracy over traditional methods [6]. Additionally, the application of Hadoop and MapReduce for weather temperature prediction has been explored, emphasizing the benefits of these technologies in processing large volumes of sensor data [7].

Dagade et al. [8] explored the application of Apache Hadoop and Spark for analyzing vast, unstructured weather data. Comparisons between Pig and Hive for data processing efficiency have highlighted Hive's superior performance, particularly in handling large datasets. The focus of many distributed file systems, such as HDFS, is on scalable data processing and storage across clusters of one or more nodes.

The Meteorological Services Department in Zimbabwe has also explored the use of Hadoop MapReduce for managing weather data. The study demonstrates that Hadoop MapReduce is an appropriate tool for managing weather data, offering better options for cost-effective and scalable data management [9].

Ramya et al. [10] discuss the application of big data analytics in predicting environmental changes to support climate-smart agriculture. They emphasize the importance of integrating big data technologies to enhance agricultural practices, increase resilience to climate change, and improve decision-making processes. The findings suggest that big data analytics can significantly contribute to climate adaptation and agricultural productivity.

Basvanth Reddy and Patil [11] discuss the use of Hadoop MapReduce for weather prediction, highlighting the improved accuracy and processing speed achieved through this method. The study concludes that using Hadoop for weather prediction has a number of advantages over conventional data processing methods.

Doreswamy and Ibrahim [12] emphasize the role of Hadoop and MapReduce in processing vast amounts of historical weather data, improving analysis and prediction accuracy. By leveraging these technologies, large datasets are handled efficiently, enhancing processing speed and ensuring fault tolerance.

Lee et al. [13] developed a climatology model for forecasting typhoon rainfall in Taiwan. The model incorporates topographical lifting and demonstrated strong correlation with observed cumulative rainfall. While useful, the model requires adjustments for individual typhoon characteristics for real-time applications.

Pandey et al. [15] explored a Hadoop-based weather prediction model for the classification of weather data. The research applied the word count algorithm for initial data processing, followed by the implementation of ANFIS and fuzzy logic for weather forecasting. The findings show that ANFIS demonstrates superior accuracy in predicting weather conditions compared to other methods evaluated.

In summary, the integration of Hadoop and Spark frameworks in meteorological data analysis has shown significant potential in enhancing data processing efficiency, scalability, and prediction accuracy. These technologies discuss the difficulties that are related with handling large volumes of weather data, making them crucial tools for modern meteorological analytics.

III. PROBLEM STATEMENT

Effective forecasting is crucial across various domains, including weather prediction, financial markets, and resource planning, where accurate predictions drive informed decision-making and resource allocation. Because they can effectively capture temporal connections in data, time series models like Autoregressive (AR) and Moving Average (MA) are frequently employed for forecasting tasks.. However, with the ever-growing volume and complexity of data, traditional approaches face scalability and efficiency challenges.

The emergence of distributed computing frameworks such as Hadoop, MapReduce, and PySpark offers promising solutions to overcome these challenges. By distributing data and computation across multiple nodes, these frameworks enable parallel processing, scalability, and fault tolerance, making them ideal for handling large-scale time series analysis tasks. To comprehend the effectiveness and scalability of time series models, however, more research and comparison of their performance in distributed computing systems are required. This paper aims to address this gap by conducting a comparative analysis of AR and MA time series models for forecasting tasks using distributed computing frameworks. By leveraging the scalability and parallel processing capabilities of these platforms, the study seeks to evaluate the performance, accuracy, and scalability of AR and MA models across diverse datasets and forecasting scenarios. The research attempts to offer important insights into the applicability of time series models in distributed computing environments and their influence on forecasting efficiency and accuracy through empirical analysis and testing.

The study's conclusions have a big impact on a lot of different industries that use forecasting., including meteorology, finance, healthcare, and supply chain management. By understanding the strengths and limitations of different time series models within distributed computing frameworks, stakeholders can make more informed decisions, optimize resource allocation, and improve forecasting accuracy, ultimately driving greater efficiency and competitiveness in their respective domains.

IV. PROPOSED SYSTEM AND ARCHITECTURE

Authorized licensed use limited to: Mukesh Patel School of Technology & Engineering. Downloaded on February 27,2026 at 16:59:49 UTC from IEEE Xplore. Restrictions apply.

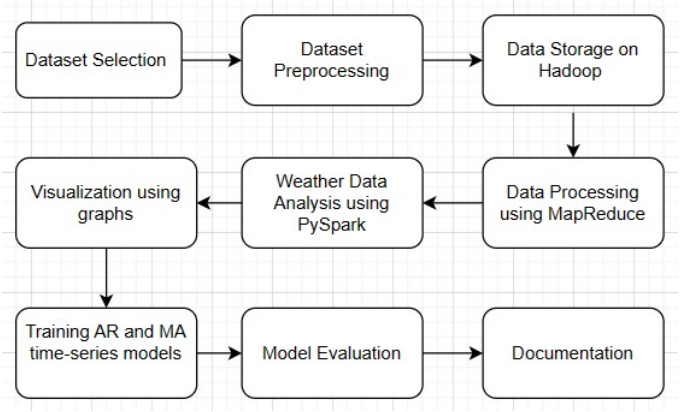

Fig. 1 Proposed System

The proposed system, as seen in Fig. 1 leverages a hybrid approach integrating both Hadoop and Spark technologies for efficient processing and analysis of climate data. Hadoop's MapReduce paradigm is utilized for initial data preprocessing tasks, facilitating distributed storage and parallel processing of large-scale datasets. This step ensures data cleaning, transformation, and filtering, preparing the dataset for further analysis. Subsequently, Spark is employed for advanced analytics and visualization, taking advantage of its in-memory computing capabilities to perform complex computations and generate insights rapidly. The architecture of the system involves a distributed computing environment, with Hadoop's HDFS serving as the storage layer for the dataset and Spark running on top for real-time data processing. This scalable architecture enables seamless handling of diverse data sources and accommodates the growing volume of climate data. Additionally, the system architecture ensures reproducibility and scalability, allowing easy deployment and execution of analysis tasks on Linux environments. Overall, this proposed system architecture provides a robust framework for exploring climate trends and conducting predictive modeling with AR and MA time series models in a big data context.

A. DATASET INFORMATION

The dataset used for this analysis was obtained from Kaggle. It comprises historical temperature records from major cities across the world spanning a period from 1995 to 2020. It includes detailed information such as the region, country, state, city, month, day, year, and average temperature.

Each entry in the dataset provides a snapshot of the temperature recorded on a specific day in a particular city, enabling a comprehensive analysis of climate trends over time. The dataset covers a wide range of cities, capturing diverse climatic conditions and geographical variations.

The dataset serves as a valuable resource for studying the long-term climate patterns and variations in temperature across different regions. It makes it possible for scientists to investigate seasonal patterns, spot temperature anomalies, and evaluate how local climates are affected by climate change. Additionally, the dataset facilitates the development and validation of predictive models for weather forecasting and climate projection.

V. IMPLEMENTATION

The implementation begins with data ingestion, where the climate dataset is imported into the Hadoop Distributed File System (HDFS) for storage and processing. Using Hadoop's MapReduce framework, data preprocessing tasks are executed to clean and prepare the dataset, including handling missing values, filtering irrelevant data, and converting formats as necessary. PySpark is then employed for advanced analytics and modeling, with specific focus on implementing Autoregressive (AR) and Moving Average (MA) time series models for weather forecasting. Utilizing PySpark's MLlib library, these models are trained on historical climate data to capture temporal patterns and fluctuations in temperature. Furthermore, visualization techniques are applied to interpret and communicate the model outputs effectively. The implementation details, including code snippets and configuration settings, are documented to ensure reproducibility and facilitate future iterations of the analysis pipeline. Through this implementation, insights into the comparative performance of AR and MA models in forecasting climate trends are gained, laying the groundwork for further research in big data analytics and climate science.

VI. RESULTS

After implementing the Autoregressive (AR) and Moving Average (MA) time series models and conducting a thorough analysis of climate trends in major cities of India, several key insights have emerged. The following graphs illustrate the patterns and fluctuations observed in temperature data over the study period. These visualizations provide a deeper understanding of the effectiveness of AR and MA models in capturing seasonal variations and forecasting future temperature trends.

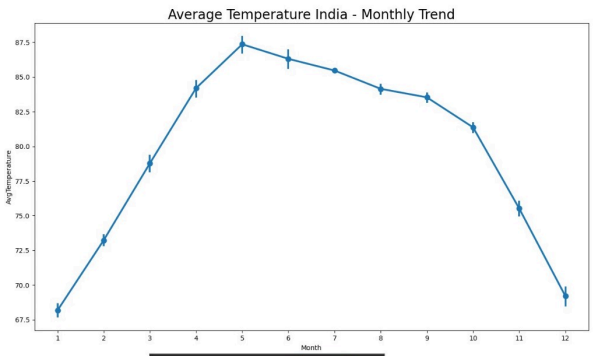

Fig. 2 Temperature Trend Plot

The graph in Fig. 2 depicts the monthly trend of average temperature in India, the x-axis represents the months of the year, while the y-axis represents the average temperature in degrees Fahrenheit. This visualization provides a comprehensive overview of how temperatures vary throughout the year, capturing seasonal patterns and trends.

Authorized licensed use limited to: Mukesh Patel School of Technology & Engineering. Downloaded on February 27,2026 at 16:59:49 UTC from IEEE Xplore. Restrictions apply.

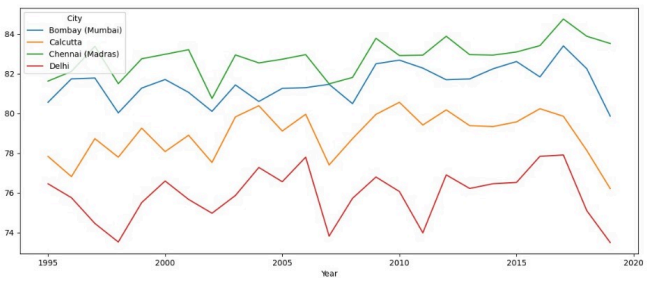

Fig. 3 Average Temperature in Four Indian Cities

The graph in Fig. 3 depicts the average temperatures of four Indian cities: Bombay, Calcutta, Chennai, Delhi. The x–axis represents the year, ranging from 1995 to 2020. The y-axis represents the temperature in Fahrenheit.

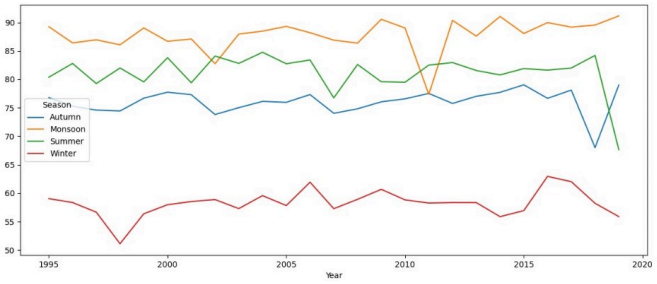

Fig. 4 Seasonal Temperature Trends in Delhi

The graph in Fig. 4 depicts the seasonal temperature trends in Delhi from the year 1995 to 2020. The four seasons are Autumn, Monsoon, Summer and Winter.

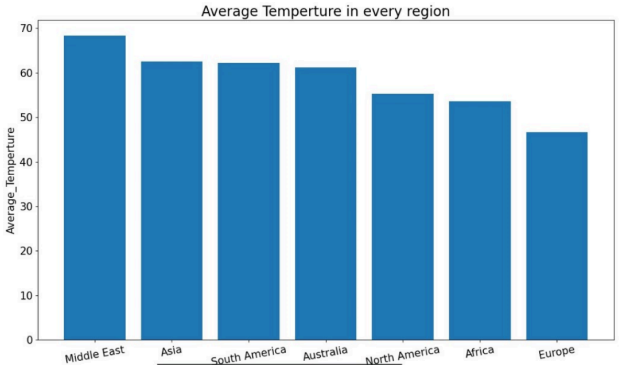

Fig.5 Average temperature in every region

The plot in Fig. 5 depicts the average temperature in every region in the dataset. We see that the Middle East has the highest average temperature and Europe has the lowest.

ARIMA, which stands for Autoregressive Integrated Moving Average, is a popular time series forecasting method. ARIMA combines three key components: autoregression (AR), differencing (I), and moving average (MA).

The AR and MA components capture different aspects of the time series behavior. The AR component models the relationship between the current value and its past values, while the MA component models the relationship between the current value and past forecast errors. By combining these two, ARIMA can effectively capture various patterns and trends in time series data.

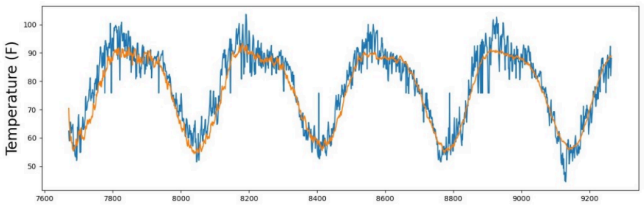

Fig. 6 Prediction Graph

In this project, the main variable for parameters current value,past value and past forecast error is the Avgtemperature ,in the graph (Fig.6), we see that the error is difference between the orange line and blue graph this is calculated as the RMSE (root mean squared value) for the MA model in time series forecasting The main procedure is to first fit the MA model on the variable AvgTemperature and then RMSE is calculated using testing set of AvgTemperature This ensures that the model keeps learning hence the graph bears resemblance to actual temperature graph.

VII. CONCLUSION

This project has provided valuable insights into climate trends in major cities of India through the lens of big data analytics. By leveraging Hadoop and Spark technologies, we have conducted a comprehensive analysis of temperature data spanning from 1995 to 2020, shedding light on seasonal variations, long-term trends, and predictive modeling for weather forecasting.

Our analysis revealed significant findings regarding temperature patterns in major cities, with a particular focus on Delhi. The comparison between Autoregressive (AR) and Moving Average (MA) time series models demonstrated the efficacy of these approaches in capturing temporal dynamics and forecasting future temperature trends. Through evaluation metrics such as Mean Squared Error (MSE) and Root Mean Squared Error (RMSE), we assessed the accuracy and performance of the models, providing valuable insights for decision-making and proactive measures in climate resilience.

Furthermore, visualizations such as the monthly trend of average temperature in India and seasonal temperature trends in Delhi facilitated a deeper understanding of climate dynamics, enabling stakeholders to interpret the data effectively and derive actionable insights.

Overall, this project serves as a foundational exploration into big data analytics in climate science, laying the groundwork for future research and applications in this domain. By harnessing the power of big data technologies, we can continue to advance our understanding of climate trends, mitigate the impacts of climate change, and foster sustainable development practices in urban environments.

Authorized licensed use limited to: Mukesh Patel School of Technology & Engineering. Downloaded on February 27,2026 at 16:50:49 UTC from IEEE Xplore. Restrictions apply.

VIII. FUTURE SCOPE

The project offers promising paths for the future exploration and development in the realm of climate science and big data analytics. Further refinement of predictive modeling techniques, particularly through the integration of advanced machine learning algorithms and ensemble methods, holds the potential to significantly enhance precision and dependability of weather forecasting. Additionally, expanding the extent of analysis to incorporate additional data sources such as air quality indices, precipitation levels, and socio-economic indicators can offer a more holistic comprehension of the complex interplay between climate dynamics and urban environments. Moreover, the integration of real-time monitoring systems and predictive analytics can enable proactive measures and timely interventions in response to extreme weather events, thereby bolstering disaster preparedness and risk management efforts. Collaborative research initiatives, involving partnerships with domain experts, government agencies, and research institutions, can further enrich the project's impact by fostering knowledge exchange, data sharing, and interdisciplinary collaboration. By leveraging these opportunities for future study and innovation, the project is poised to contribute significantly to our collective efforts in building climate-resilient cities and fostering sustainable urban development in the face of climate change.

IX. REFERENCES

[1] Mohammed Adam Ibrahim Fakhr Eldin, Khalid Adam , Noor Akma Abu Bakar1and Mazlina Abdul Majid, “Weather Data Analysis Using Hadoop: Applications and Challenges”, IOP Conference Series: Materials Science and Engineering

[2] Eslam Hussein, Ronewa Sadiki, Yahleel Jafta, Muhammad Mujahid Sungay, Olasupo Ajayi1,and Antoine Bagula, “Big Data Processing Using Hadoop and Spark: The Case of Meteorology Data”, AFRICOMM 2019 - 11th EAI International Conference on e-Infrastructure and e-Services for Developing Countries

[3] Abderrahim El Mhouti, Mohamed Fahim, Adil Soufi Imane El Alama, “A Web Scraping Framework for Descriptive Analysis of Meteorological Big Data for Decision-Making Purposes”, International Journal of Hybrid Information Technology Vol.2, No.1 (2022), pp.47-64

[4] VAKA PRAVEENKUMAR REDDY, G. LAKSHMI VARA PRASAD, “Weather Data Analytics using Apache Spark”, International Journal of Scientific Engineering and Technology Research Volume.07, IssueNo.07, July-2018

[5] Chih-Chiang Wei, Tzu-Hao Chou, “Typhoon Quantitative Rainfall Prediction from Big Data Analytics by Using the Apache Hadoop Spark Parallel Computing Framework”,Atmosphere 2020, 11, 870

[6] Akkshaya Sri J, Mohindran S. R, Rohinth. S, Sanchez Innocencia D, Dr. M. Marimuthu, Dr. P. Velvadivu, “ANALYSIS OF WEATHER USING HADOOP”, International Research Journal of Modernization in Engineering Technology and Science Volume:03/Issue:07/July-2021

[7] Ismail K A, Majid M A, Zain J M, and Bakar N A A “Big Data prediction framework for weather temperature based on MapReduce algorithm”, Open Systems (ICOS), 2016 IEEE Conference 13–17.

[8] Dagade V, Lagali M, Avadhani S, and Kalekar, “Big data weather analytics using Hadoop”, Int. J. Emerg. Technol. Comput. Sci. Electron, 2015 14 2.

[9] Riyaz P and Varghese S M “Leveraging map reduce with hadoop for weather data analytics” IOSR J. Comput. Eng, 2015 17 3.

[10] Ramya M, Balaji C, and Girish L, “Environment Change Prediction to Adapt Climate-Smart Agriculture Using Big Data Analytics” Int. J. Adv. Res. Comput. Eng. Technol., 2016 4 201.

[11] Basvanth Reddy, B.A Patil, "Weather Prediction Based on Big Data Using Hadoop Map Reduce Technique", International Journal of Advanced Research in Computer and Communication Engineering, vol. 5, no. 6, June 2016, ISBN 2278-1021.

[12] Doreswamy, Gad Ibrahim, "Big data techniques:hadoop and mapreduce for weather forecasting", International Journal of Scientific Engineering and Technology Research Volume.07, IssueNo.07, July-2018, Pages: 1361-1364 Journal of Latest Trends in Engineering and Technology, pp. 194-199, 2016.

[13] Lee, C.S.; Huang, L.R.; Shen, H.S.; Wang, S.T. “A climatology model for forecasting typhoon rainfall in Taiwan.” Nat. Hazards 2006, 37, 87–105.

[14] V. Dagade, M. Lagali, S. Avadhani, and P. Kalekar, “Big data weather analytics using hadoop,” International Journal of Emerging Technology in Computer Science & Electronics (IJETCSE) ISSN, pp. 0976–1353, 2015

[15] A. Pandey, C. Agrawal, and M. Agrawal, “A hadoop based weather prediction model for classification of weather data,” in 2017 Second International Conference on Electrical, Computer and Communication Technologies (ICECCT), pp. 1–5,IEEE, 2017

Authorized licensed use limited to: Mukesh Patel School of Technology Management & Engineering. Downloaded on February 27,2026 at 16:59:49 UTC from IEEE Xplore. Restrictions apply.